Premium Roof & Walls, Windows & Doors Report

2/28/2026

681 BOWHALL RD,, PAINESVILLE, OH 44077 Report: 69533306

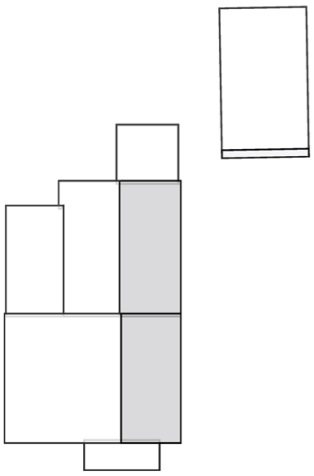

In this 3D model, facets appear as semi-transparent to reveal overhangs.

Claim Information

Claim Number: 3566C995N

Date Of Loss: 2025-05-02

PREPARED FOR

Contact:	Virgil Stone
Company:	Your Insurance Claims Network, LLC
Address:	675 Alpha Dr Highland Heights, OH 44143
Phone:	(216) 331-8323

TABLE OF CONTENTS

Images 1
Length Diagram 5
Pitch Diagram 6
Area Diagram 7
Notes Diagram 8
3D Wall Area Diagram 9
Alternate 3D Wall View 11
Window and Door Diagram 13
Elevation Diagrams 15
Report Summary 25
Wall Measurement Summary 26

MEASUREMENTS

Total Roof Area =1,927 sq ft
Total Roof Facets =9
Predominant Pitch =6/12
Number of Stories <=1
Total Ridges/Hips =59 ft
Total Valleys =0 ft
Total Rakes =179 ft
Total Eaves =142 ft
Total Wall Area = 2089.8 sq ft
Total Wall Facets = 19
Total Siding Area = 1881.7 sq ft
Total Masonry Area = 208.1 sq ft

Measurements provided by www.eagleview.com

Certified Accurate

www.eagleview.com/Guarantee.aspx

© 2008-2026 Eagle View Technologies, Inc. and Pictometry International Corp. – All Rights Reserved – Covered by one or more of U.S. Patent Nos. 8,078,436; 8,145,578; 8,170,840; 8,209,152; 8,515,125; 8,825,454; 9,135,737; 8,670,961; 9,514,568; 8,818,770; 8,542,880; 9,244,589; 9,329,749; 9,599,466. Other Patents Pending.

IMAGES

The following aerial images show different angles of this structure for your reference.

Top View

© 2008-2026 Eagle View Technologies, Inc. and Pictometry International Corp. – All Rights Reserved – Covered by one or more of U.S. Patent Nos. 8,078,436; 8,145,578; 8,170,840; 8,209,152; 8,515,125; 8,825,454; 9,135,737; 8,670,961; 9,514,568; 8,818,770; 8,542,880; 9,244,589; 9,329,749; 9,599,466. Other Patents Pending.

IMAGES

North Side

South Side

© 2008-2026 Eagle View Technologies, Inc. and Pictometry International Corp. – All Rights Reserved – Covered by one or more of U.S. Patent Nos. 8,078,436; 8,145,578; 8,170,840; 8,209,152; 8,515,125; 8,825,454; 9,135,737; 8,670,961; 9,514,568; 8,818,770; 8,542,880; 9,244,589; 9,329,749; 9,599,466. Other Patents Pending.

IMAGES

East Side

West Side

© 2008-2026 Eagle View Technologies, Inc. and Pictometry International Corp. – All Rights Reserved – Covered by one or more of U.S. Patent Nos. 8,078,436; 8,145,578; 8,170,840; 8,209,152; 8,515,125; 8,825,454; 9,135,737; 8,670,961; 9,514,568; 8,818,770; 8,542,880; 9,244,589; 9,329,749; 9,599,466. Other Patents Pending.

681 BOWHALL RD,, PAINESVILLE, OH 44077 Report: 69533306

STRUCTURE NUMBER LABELS

© 2008-2026 Eagle View Technologies, Inc. and Pictometry International Corp. – All Rights Reserved – Covered by one or more of U.S. Patent Nos. 8,078,436; 8,145,578; 8,170,840; 8,209,152; 8,515,125; 8,818,770; 8,542,880; 9,244,589; 9,329,749; 9,599,466. Other Patents Pending.

LENGTH DIAGRAM

Total Line Lengths:
Ridges = 59 ft
Hips = 0 ft

Valleys = 0 ft
Rakes = 179 ft
Eaves = 142 ft

Flashing = 23 ft
Step flashing = 33 ft
Parapets = 0 ft

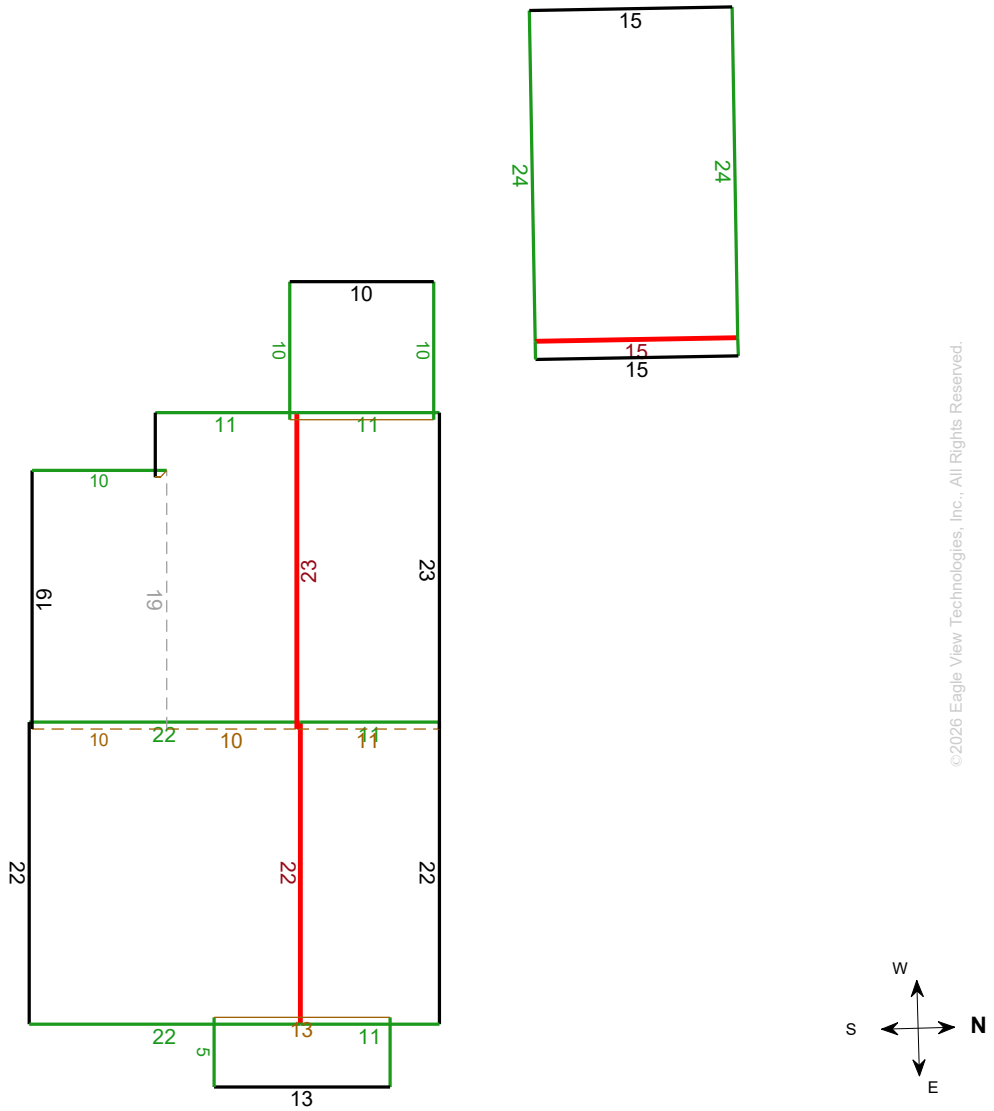

©2026 Eagle View Technologies, Inc., All Rights Reserved.

Note: This diagram contains segment lengths (rounded to the nearest whole number) over 5.0 Feet. In some cases, segment labels have been removed for readability. Plus signs preface some numbers to avoid confusion when rotated (e.g. +6 and +9).

© 2008-2026 Eagle View Technologies, Inc. and Pictometry International Corp. – All Rights Reserved – Covered by one or more of U.S. Patent Nos. 8,078,436; 8,145,578; 8,170,840; 8,209,152; 8,515,125; 8,825,454; 9,135,737; 8,670,961; 9,514,568; 8,818,770; 8,542,880; 9,244,589; 9,329,749; 9,599,466. Other Patents Pending.

681 BOWHALL RD,, PAINESVILLE, OH 44077 Report: 69533306

PITCH DIAGRAM

Pitch values are shown in inches per foot, and arrows indicate slope direction. The predominant pitch on this roof is 6/12

©2026 Eagle View Technologies, Inc., All Rights Reserved.

Note: This diagram contains labeled pitches for facet areas larger than 20.0 square feet. In some cases, pitch labels have been removed for readability. Blue shading indicates a pitch of 3/12 and greater. Gray shading indicates flat, 1/12 or 2/12 pitches.

© 2008-2026 Eagle View Technologies, Inc. and Pictometry International Corp. – All Rights Reserved – Covered by one or more of U.S. Patent Nos. 8,078,436; 8,145,578; 8,170,840; 8,209,152; 8,515,125; 8,825,454; 9,135,737; 8,670,961; 9,514,568; 8,818,770; 8,542,880; 9,244,589; 9,329,749; 9,599,466. Other Patents Pending.

AREA DIAGRAM

Total Area = 1,927 sq ft, with 9 facets.

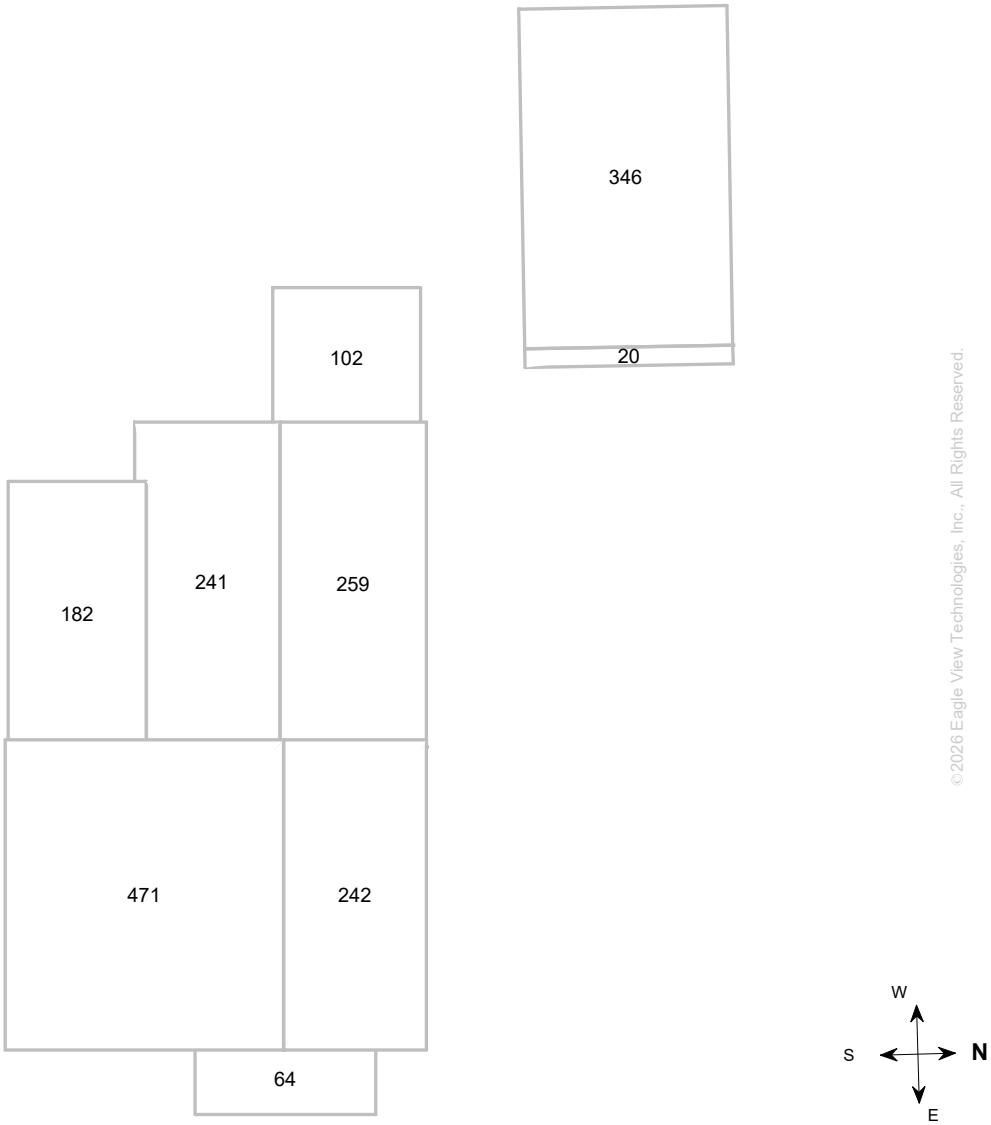

©2026 Eagle View Technologies, Inc., All Rights Reserved.

Note: This diagram shows the square feet of each roof facet (rounded to the nearest Foot). The total area in square feet, at the top of this page, is based on the non-rounded values of each roof facet (rounded to the nearest square foot after being totaled).

© 2008-2026 Eagle View Technologies, Inc. and Pictometry International Corp. – All Rights Reserved – Covered by one or more of U.S. Patent Nos. 8,078,436; 8,145,578; 8,170,840; 8,209,152; 8,515,125; 8,825,454; 9,135,737; 8,670,961; 9,514,568; 8,818,770; 8,542,880; 9,244,589; 9,329,749; 9,599,466. Other Patents Pending.

NOTES DIAGRAM

Roof facets are labeled from smallest to largest (A to Z) for easy reference.

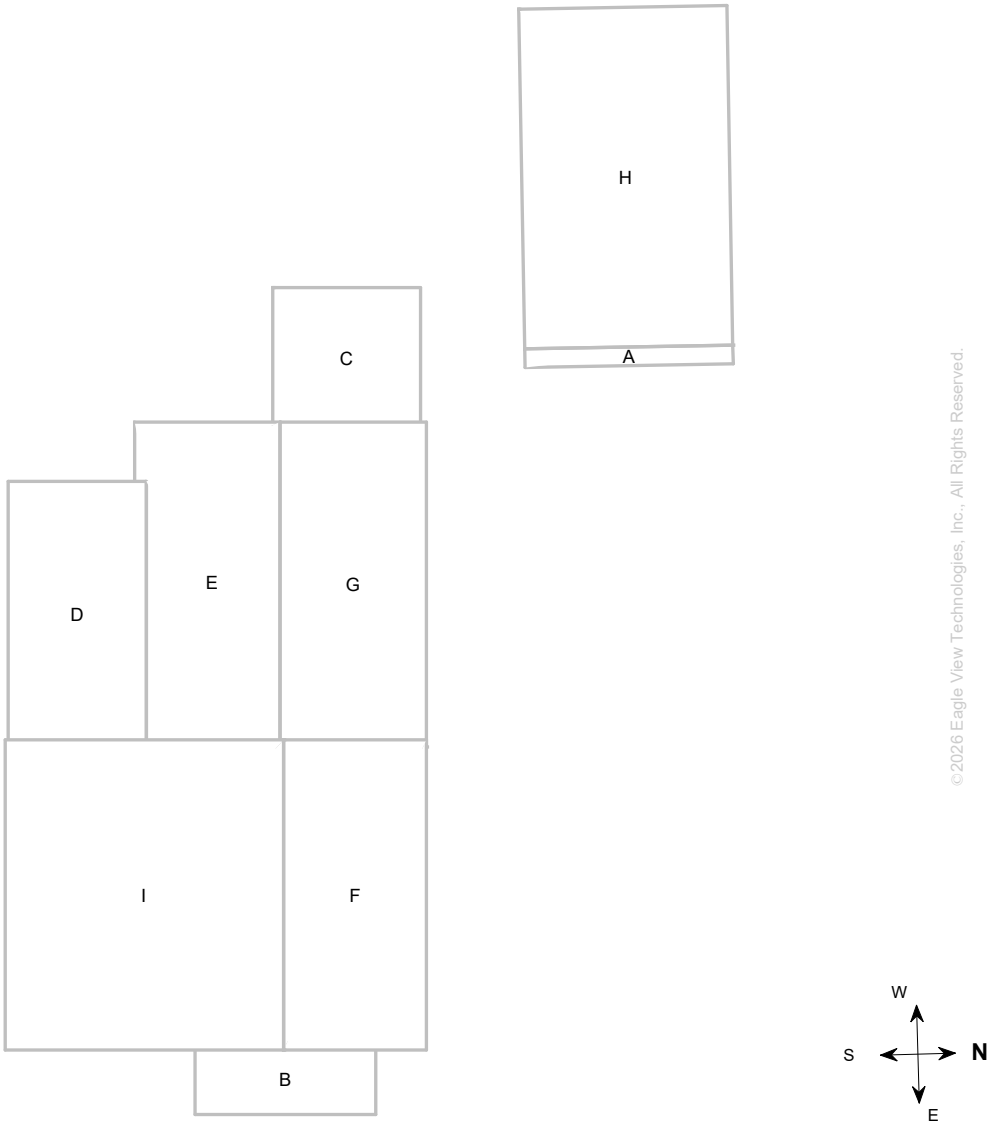

©2026 Eagle View Technologies, Inc., All Rights Reserved.

© 2008-2026 Eagle View Technologies, Inc. and Pictometry International Corp. – All Rights Reserved – Covered by one or more of U.S. Patent Nos. 8,078,436; 8,145,578; 8,170,840; 8,209,152; 8,515,125; 8,825,454; 9,135,737; 8,670,961; 9,514,568; 8,818,770; 8,542,880; 9,244,589; 9,329,749; 9,599,466. Other Patents Pending.

681 BOWHALL RD,, PAINESVILLE, OH 44077 Report: 69533306

WALL AREA DIAGRAM

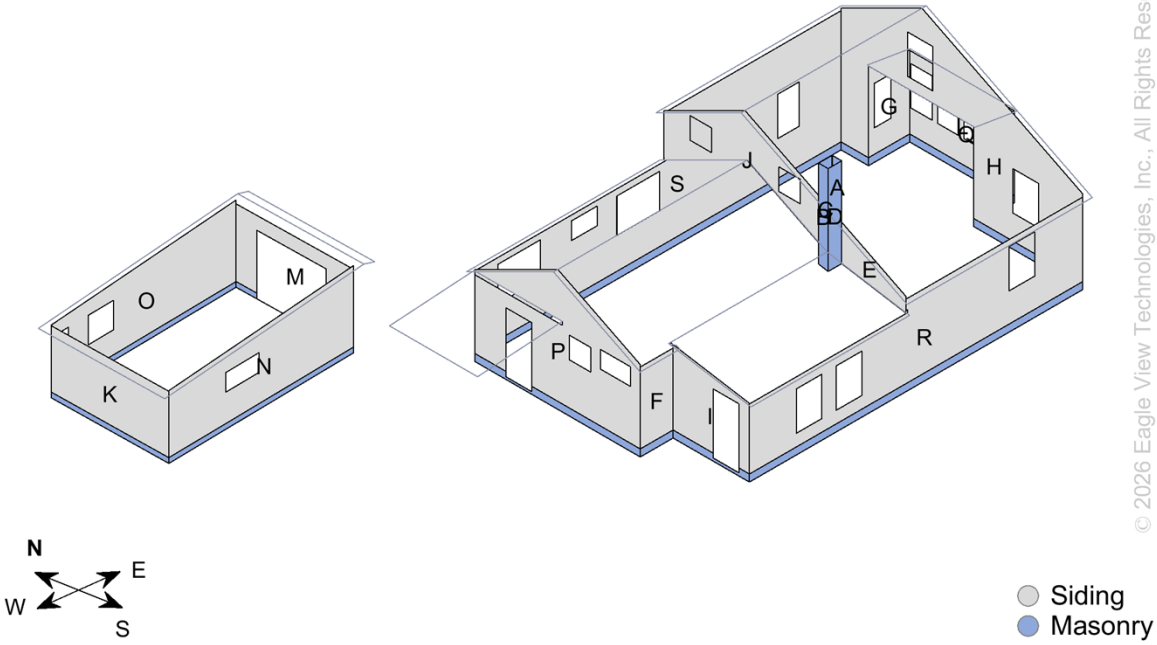

© 2026 Eagle View Technologies, Inc., All Rights Reserved.

North

Wall	Siding Wall Area (ft²)	Masonry Wall Area (ft²)
C	0.0	16.3
O	152.3	12.8
S	403.5	34.9
G	33.9	3.9
Total	**589.7**	**67.9**

East

Wall	Siding Wall Area (ft²)	Masonry Wall Area (ft²)
L	59.1	10.0
M	55.5	3.2
Q	265.1	13.0
A	0.0	6.6
Total	**379.7**	**32.8**

South

Wall	Siding Wall Area (ft²)	Masonry Wall Area (ft²)
D	0.0	16.5
R	267.0	31.8
N	157.8	12.8
F	31.9	3.1

West

Wall	Siding Wall Area (ft²)	Masonry Wall Area (ft²)
B	0.0	11.5
I	51.2	5.8
K	91.0	7.9
P	175.6	14.1

© 2008-2026 Eagle View Technologies, Inc. and Pictometry International Corp. – All Rights Reserved – Covered by one or more of U.S. Patent Nos. 8,078,436; 8,145,578; 8,170,840; 8,209,152; 8,515,125; 8,825,454; 9,135,737; 8,670,961; 9,514,568; 8,818,770; 8,542,880; 9,244,589; 9,329,749; 9,599,466. Other Patents Pending.

H	31.7	3.9
Total	**488.4**	**68.1**

E	22.1	0.0
J	84.0	0.0
Total	**423.9**	**39.3**

© 2008-2026 Eagle View Technologies, Inc. and Pictometry International Corp. – All Rights Reserved – Covered by one or more of U.S. Patent Nos. 8,078,436; 8,145,578; 8,170,840; 8,209,152; 8,515,125; 8,825,454; 9,135,737; 8,670,961; 9,514,568; 8,818,770; 8,542,880; 9,244,589; 9,329,749; 9,599,466. Other Patents Pending.

681 BOWHALL RD,, PAINESVILLE, OH 44077 Report: 69533306

ALTERNATE WALL AREA

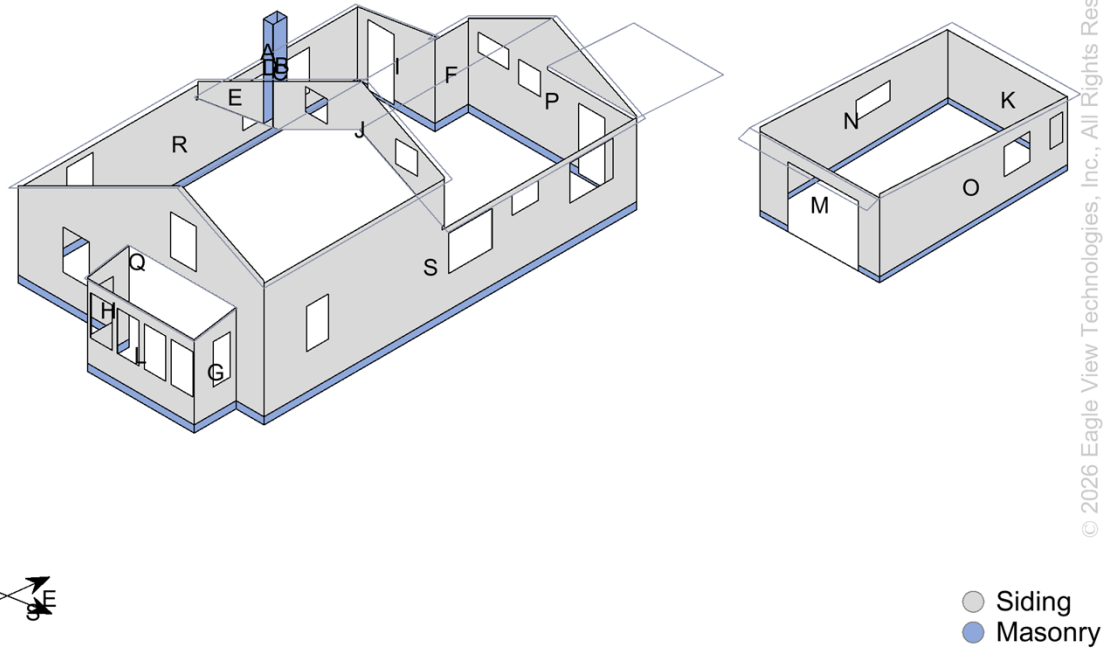

© 2026 Eagle View Technologies, Inc., All Rights Reserved.

North

Wall	Siding Wall Area (ft²)	Masonry Wall Area (ft²)
C	0.0	16.3
O	152.3	12.8
S	403.5	34.9
G	33.9	3.9
Total	**589.7**	**67.9**

East

Wall	Siding Wall Area (ft²)	Masonry Wall Area (ft²)
L	59.1	10.0
M	55.5	3.2
Q	265.1	13.0
A	0.0	6.6
Total	**379.7**	**32.8**

South

Wall	Siding Wall Area (ft²)	Masonry Wall Area (ft²)
D	0.0	16.5
R	267.0	31.8
N	157.8	12.8

West

Wall	Siding Wall Area (ft²)	Masonry Wall Area (ft²)
B	0.0	11.5
I	51.2	5.8
K	91.0	7.9

© 2008-2026 Eagle View Technologies, Inc. and Pictometry International Corp. – All Rights Reserved – Covered by one or more of U.S. Patent Nos. 8,078,436; 8,145,578; 8,170,840; 8,209,152; 8,515,125; 8,825,454; 9,135,737; 8,670,961; 9,514,568; 8,818,770; 8,542,880; 9,244,589; 9,329,749; 9,599,466. Other Patents Pending.

F	31.9	3.1
H	31.7	3.9
Total	**488.4**	**68.1**

P	175.6	14.1
E	22.1	0.0
J	84.0	0.0
Total	**423.9**	**39.3**

© 2008-2026 Eagle View Technologies, Inc. and Pictometry International Corp. – All Rights Reserved – Covered by one or more of U.S. Patent Nos. 8,078,436; 8,145,578; 8,170,840; 8,209,152; 8,515,125; 8,825,454; 9,135,737; 8,670,961; 9,514,568; 8,818,770; 8,542,880; 9,244,589; 9,329,749; 9,599,466. Other Patents Pending.

681 BOWHALL RD,, PAINESVILLE, OH 44077 Report: 69533306

WINDOW AND DOOR DIAGRAM

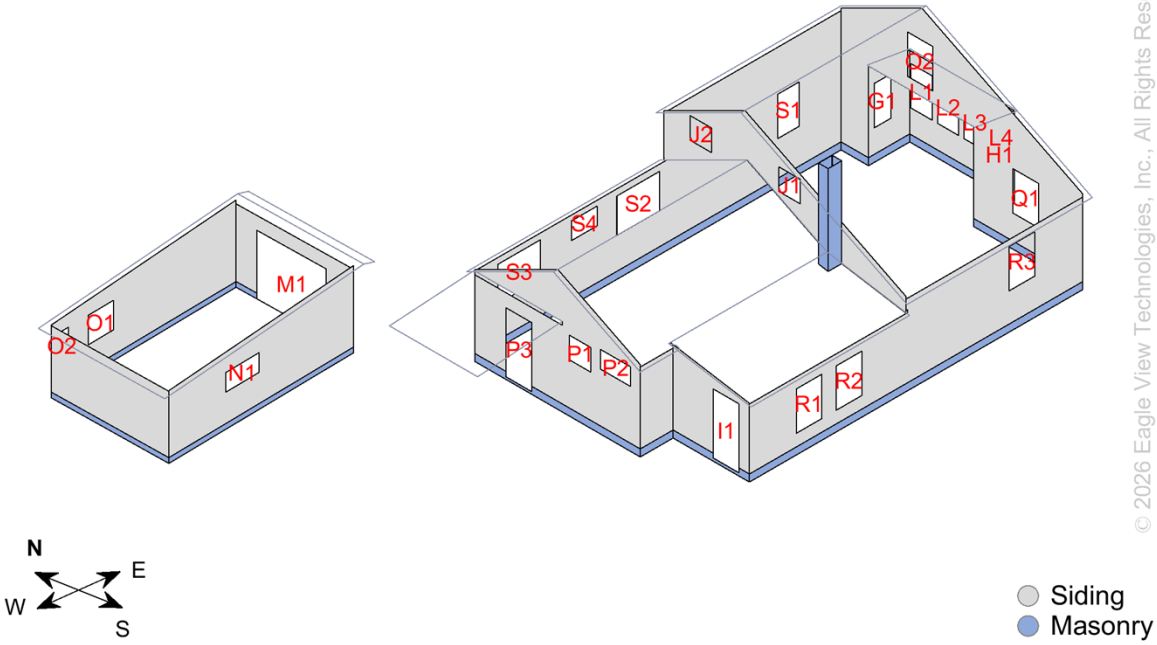

© 2026 Eagle View Technologies, Inc., All Rights Reserved.

Note: Window & door measurements include trim.

North

Window/Door	Area (ft²)	Perimeter (ft)	Dimensions W x H (ft)
G1	9.0	13.0	2.0 x 4.5
O1	9.0	12.0	3.0 x 3.0
O2	4.5	9.0	1.5 x 3.0
S1	11.2	14.0	2.5 x 4.5
S2	20.0	18.0	5.0 x 4.0
S3	20.0	18.0	5.0 x 4.0
S4	6.0	10.0	3.0 x 2.0
Total	**79.7**	**94.0**	**n/a**

East

Window/Door	Area (ft²)	Perimeter (ft)	Dimensions W x H (ft)
L1	11.2	14.0	2.5 x 4.5
L2	11.3	14.0	2.5 x 4.5
L3	11.3	14.0	2.5 x 4.5
L4	11.2	14.0	2.5 x 4.5
M1	55.6	30.0	8.0 x 7.0
Q1	13.5	15.0	3.0 x 4.5
Q2	13.5	15.0	3.0 x 4.5
Total	**127.6**	**116.0**	**n/a**

South

West

© 2008-2026 Eagle View Technologies, Inc. and Pictometry International Corp. – All Rights Reserved – Covered by one or more of U.S. Patent Nos. 8,078,436; 8,145,578; 8,170,840; 8,209,152; 8,515,125; 8,825,454; 9,135,737; 8,670,961; 9,514,568; 8,818,770; 8,542,880; 9,244,589; 9,329,749; 9,599,466. Other Patents Pending.

Window/Door	Area (ft^2)	Perimeter (ft)	Dimensions W x H (ft)
H1	11.2	14.0	2.5 x 4.5
N1	8.0	12.0	4.0 x 2.0
R1	13.5	15.0	3.0 x 4.5
R2	13.5	15.0	3.0 x 4.5
R3	13.5	15.0	3.0 x 4.5
Total	**59.7**	**71.0**	**n/a**

Window/Door	Area (ft^2)	Perimeter (ft)	Dimensions W x H (ft)
I1	21.0	20.0	3.0 x 7.0
J1	6.2	10.0	2.5 x 2.5
J2	6.2	10.0	2.5 x 2.5
P1	6.2	10.0	2.5 x 2.5
P2	7.0	11.0	3.5 x 2.0
P3	21.0	20.0	3.0 x 7.0
Total	**67.6**	**81.0**	**n/a**

© 2008-2026 Eagle View Technologies, Inc. and Pictometry International Corp. – All Rights Reserved – Covered by one or more of U.S. Patent Nos. 8,078,436; 8,145,578; 8,170,840; 8,209,152; 8,515,125; 8,825,454; 9,135,737; 8,670,961; 9,514,568; 8,818,770; 8,542,880; 9,244,589; 9,329,749; 9,599,466. Other Patents Pending.

681 BOWHALL RD,, PAINESVILLE, OH 44077 Report: 69533306

NORTH ELEVATION DIAGRAM

Structure #1

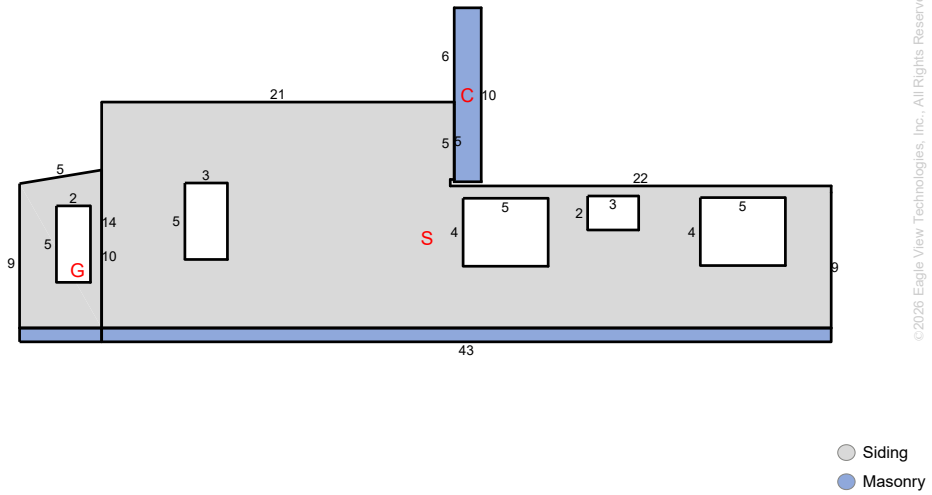

©2026 Eagle View Technologies, Inc., All Rights Reserved.

Top of Siding Walls = 47.8 ft
Bottom of Siding Walls = 47.7 ft

Wall	Siding Wall Area (ft²)	Masonry Wall Area (ft²)	Window & Door Area (ft²)	Window & Door Perimeter (ft)	Window & Door Count
C	0.0	16.3	0	0	0
S	403.5	34.9	57.2	60.0	4
G	33.9	3.9	9.0	13.0	1
Total	**437.4**	**55.1**	**66.2**	**73**	**5**

Note: On-site verification of yellow shaded areas is needed. Details are on the Wall Measurement Summary Page. This diagram shows segment lengths rounded to the nearest whole number. The window & door and wall area in square feet (rounded to the nearest tenth) is based on the actual (non-rounded) value of each segment length.

© 2008-2026 Eagle View Technologies, Inc. and Pictometry International Corp. – All Rights Reserved – Covered by one or more of U.S. Patent Nos. 8,078,436; 8,145,578; 8,170,840; 8,209,152; 8,515,125; 8,825,454; 9,135,737; 8,670,961; 9,514,568; 8,818,770; 8,542,880; 9,244,589; 9,329,749; 9,599,466. Other Patents Pending.

681 BOWHALL RD,, PAINESVILLE, OH 44077 Report: 69533306

EAST ELEVATION DIAGRAM

Structure #1

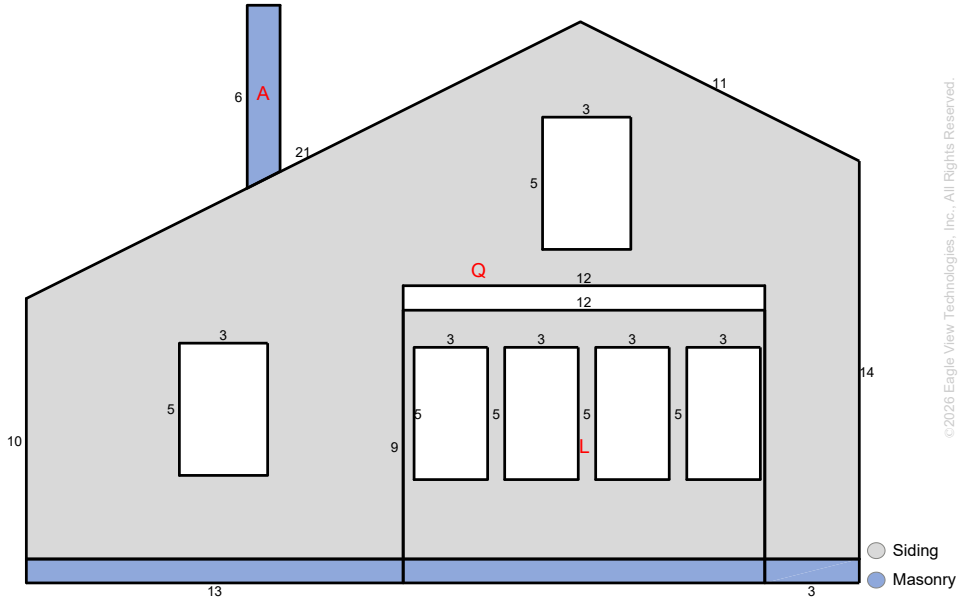

©2026 Eagle View Technologies, Inc., All Rights Reserved.

Top of Siding Walls = 44 ft

Bottom of Siding Walls = 40.6 ft

Wall	Siding Wall Area (ft^2)	Masonry Wall Area (ft^2)	Window & Door Area (ft^2)	Window & Door Perimeter (ft)	Window & Door Count
L	59.1	10.0	45.0	56.0	4
Q	265.1	13.0	27.0	30.0	2
A	0.0	6.6	0	0	0
Total	**324.2**	**29.6**	**72**	**86**	**6**

Note: On-site verification of yellow shaded areas is needed. Details are on the Wall Measurement Summary Page. This diagram shows segment lengths rounded to the nearest whole number. The window & door and wall area in square feet (rounded to the nearest tenth) is based on the actual (non-rounded) value of each segment length.

© 2008-2026 Eagle View Technologies, Inc. and Pictometry International Corp. – All Rights Reserved – Covered by one or more of U.S. Patent Nos. 8,078,436; 8,145,578; 8,170,840; 8,209,152; 8,515,125; 8,825,454; 9,135,737; 8,670,961; 9,514,568; 8,818,770; 8,542,880; 9,244,589; 9,329,749; 9,599,466. Other Patents Pending.

681 BOWHALL RD,, PAINESVILLE, OH 44077 Report: 69533306

SOUTH ELEVATION DIAGRAM

Structure #1

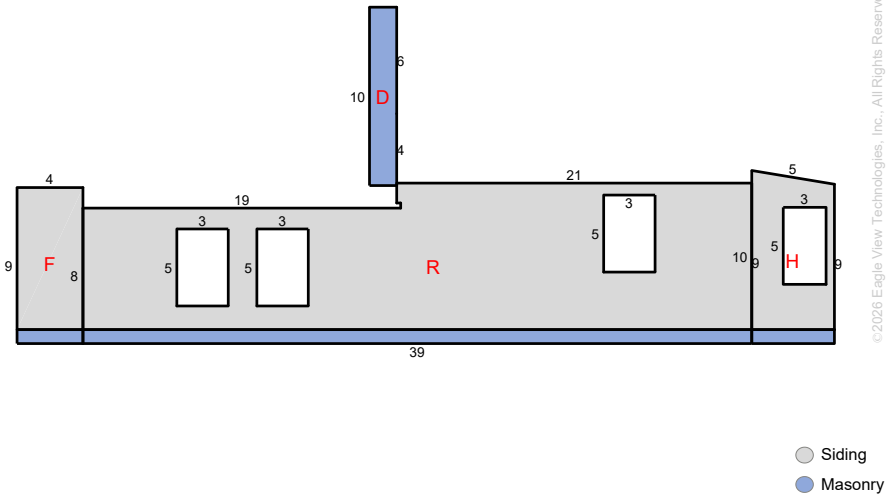

©2026 Eagle View Technologies, Inc., All Rights Reserved.

Top of Siding Walls = 47.7 ft
Bottom of Siding Walls = 47.6 ft

Wall	Siding Wall Area (ft²)	Masonry Wall Area (ft²)	Window & Door Area (ft²)	Window & Door Perimeter (ft)	Window & Door Count
D	0.0	16.5	0	0	0
R	267.0	31.8	40.5	45.0	3
F	31.9	3.1	0	0	0
H	31.7	3.9	11.2	14.0	1
Total	**330.6**	**55.3**	**51.7**	**59**	**4**

Note: On-site verification of yellow shaded areas is needed. Details are on the Wall Measurement Summary Page. This diagram shows segment lengths rounded to the nearest whole number. The window & door and wall area in square feet (rounded to the nearest tenth) is based on the actual (non-rounded) value of each segment length.

© 2008-2026 Eagle View Technologies, Inc. and Pictometry International Corp. – All Rights Reserved – Covered by one or more of U.S. Patent Nos. 8,078,436; 8,145,578; 8,170,840; 8,209,152; 8,515,125; 8,825,454; 9,135,737; 8,670,961; 9,514,568; 8,818,770; 8,542,880; 9,244,589; 9,329,749; 9,599,466. Other Patents Pending.

681 BOWHALL RD,, PAINESVILLE, OH 44077 Report: 69533306

WEST ELEVATION DIAGRAM

Structure #1

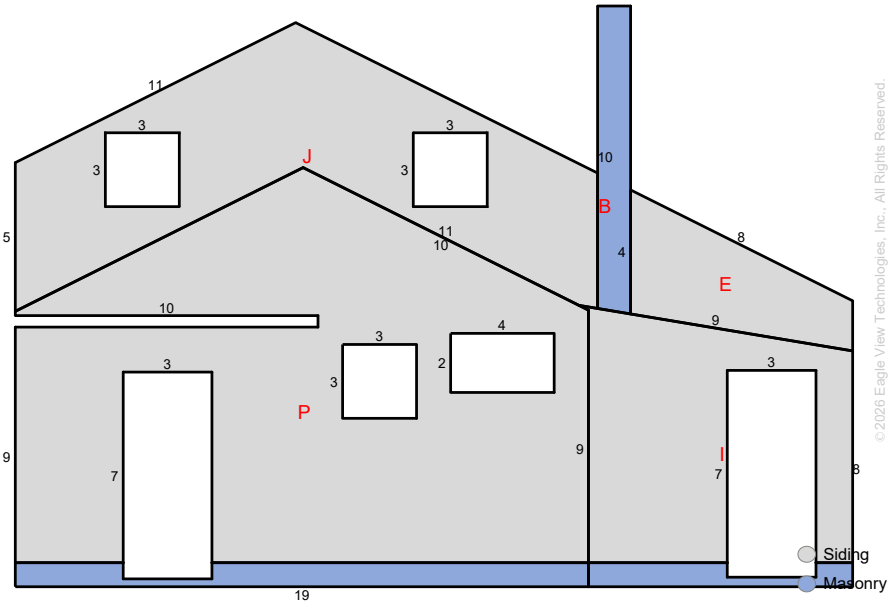

© 2026 Eagle View Technologies, Inc., All Rights Reserved.

Top of Siding Walls = 71.7 ft
Bottom of Siding Walls = 68.4 ft

Wall	Siding Wall Area (ft^2)	Masonry Wall Area (ft^2)	Window & Door Area (ft^2)	Window & Door Perimeter (ft)	Window & Door Count
B	0.0	11.5	0	0	0
I	51.2	5.8	21.0	20.0	1
P	175.6	14.1	34.2	41.0	3
E	22.1	0.0	0	0	0
J	84.0	0.0	12.4	20.0	2
Total	**332.9**	**31.4**	**67.6**	**81**	**6**

Note: On-site verification of yellow shaded areas is needed. Details are on the Wall Measurement Summary Page. This diagram shows segment lengths rounded to the nearest whole number. The window & door and wall area in square feet (rounded to the nearest tenth) is based on the actual (non-rounded) value of each segment length.

© 2008-2026 Eagle View Technologies, Inc. and Pictometry International Corp. – All Rights Reserved – Covered by one or more of U.S. Patent Nos. 8,078,436; 8,145,578; 8,170,840; 8,209,152; 8,515,125; 8,825,454; 9,135,737; 8,670,961; 9,514,568; 8,818,770; 8,542,880; 9,244,589; 9,329,749; 9,599,466. Other Patents Pending.

681 BOWHALL RD,, PAINESVILLE, OH 44077 Report: 69533306

NORTH ELEVATION DIAGRAM

Structure #2

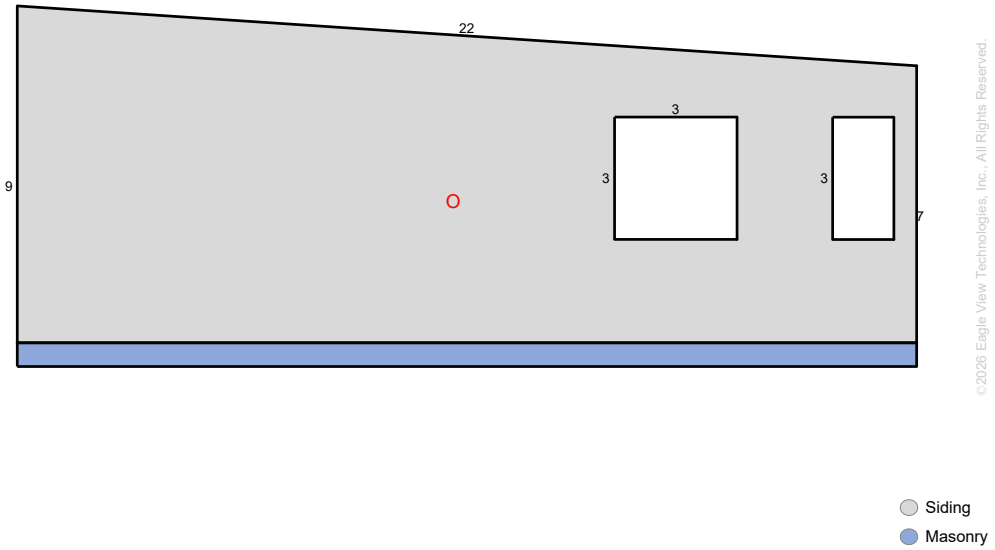

©2026 Eagle View Technologies, Inc., All Rights Reserved.

Top of Siding Walls = 22.1 ft
Bottom of Siding Walls = 22 ft

Wall	Siding Wall Area (ft^2)	Masonry Wall Area (ft^2)	Window & Door Area (ft^2)	Window & Door Perimeter (ft)	Window & Door Count
O	152.3	12.8	13.5	21.0	2
Total	**152.3**	**12.8**	**13.5**	**21**	**2**

Note: On-site verification of yellow shaded areas is needed. Details are on the Wall Measurement Summary Page. This diagram shows segment lengths rounded to the nearest whole number. The window & door and wall area in square feet (rounded to the nearest tenth) is based on the actual (non-rounded) value of each segment length.

© 2008-2026 Eagle View Technologies, Inc. and Pictometry International Corp. – All Rights Reserved – Covered by one or more of U.S. Patent Nos. 8,078,436; 8,145,578; 8,170,840; 8,209,152; 8,515,125; 8,825,454; 9,135,737; 8,670,961; 9,514,568; 8,818,770; 8,542,880; 9,244,589; 9,329,749; 9,599,466. Other Patents Pending.

681 BOWHALL RD,, PAINESVILLE, OH 44077 Report: 69533306

EAST ELEVATION DIAGRAM

Structure #2

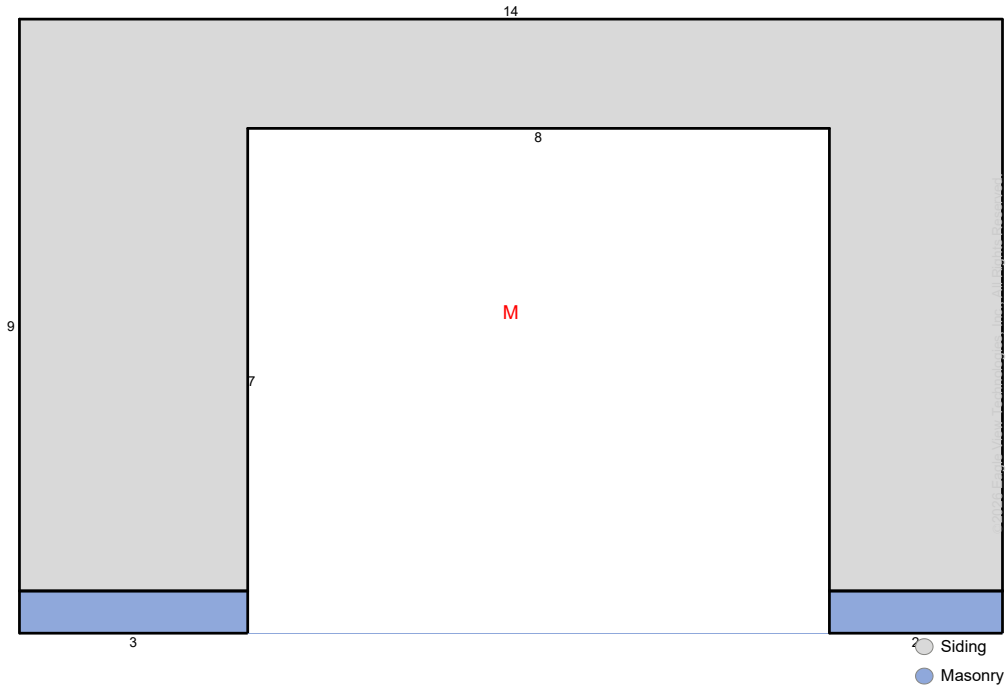

Top of Siding Walls = 13.5 ft

Bottom of Siding Walls = 13.5 ft

Wall	Siding Wall Area (ft^2)	Masonry Wall Area (ft^2)	Window & Door Area (ft^2)	Window & Door Perimeter (ft)	Window & Door Count
M	55.5	3.2	55.6	30.0	1
Total	**55.5**	**3.2**	**55.6**	**30**	**1**

Note: On-site verification of yellow shaded areas is needed. Details are on the Wall Measurement Summary Page. This diagram shows segment lengths rounded to the nearest whole number. The window & door and wall area in square feet (rounded to the nearest tenth) is based on the actual (non-rounded) value of each segment length.

© 2008-2026 Eagle View Technologies, Inc. and Pictometry International Corp. – All Rights Reserved – Covered by one or more of U.S. Patent Nos. 8,078,436; 8,145,578; 8,170,840; 8,209,152; 8,515,125; 8,825,454; 9,135,737; 8,670,961; 9,514,568; 8,818,770; 8,542,880; 9,244,589; 9,329,749; 9,599,466. Other Patents Pending.

681 BOWHALL RD,, PAINESVILLE, OH 44077 Report: 69533306

SOUTH ELEVATION DIAGRAM

Structure #2

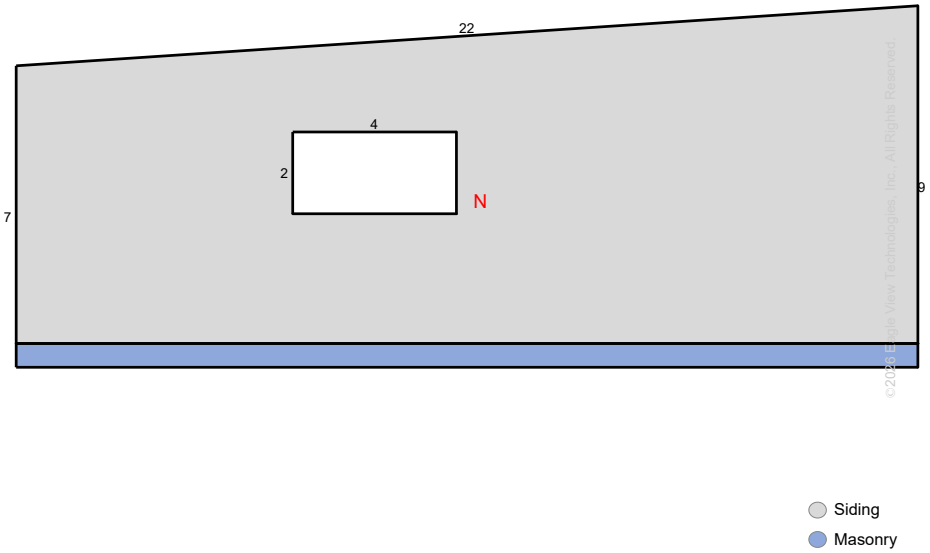

Top of Siding Walls = 22.1 ft
Bottom of Siding Walls = 22 ft

Wall	Siding Wall Area (ft^2)	Masonry Wall Area (ft^2)	Window & Door Area (ft^2)	Window & Door Perimeter (ft)	Window & Door Count
N	157.8	12.8	8.0	12.0	1
Total	**157.8**	**12.8**	**8**	**12**	**1**

Note: On-site verification of yellow shaded areas is needed. Details are on the Wall Measurement Summary Page. This diagram shows segment lengths rounded to the nearest whole number. The window & door and wall area in square feet (rounded to the nearest tenth) is based on the actual (non-rounded) value of each segment length.

© 2008-2026 Eagle View Technologies, Inc. and Pictometry International Corp. – All Rights Reserved – Covered by one or more of U.S. Patent Nos. 8,078,436; 8,145,578; 8,170,840; 8,209,152; 8,515,125; 8,825,454; 9,135,737; 8,670,961; 9,514,568; 8,818,770; 8,542,880; 9,244,589; 9,329,749; 9,599,466. Other Patents Pending.

681 BOWHALL RD,, PAINESVILLE, OH 44077 Report: 69533306

WEST ELEVATION DIAGRAM

Structure #2

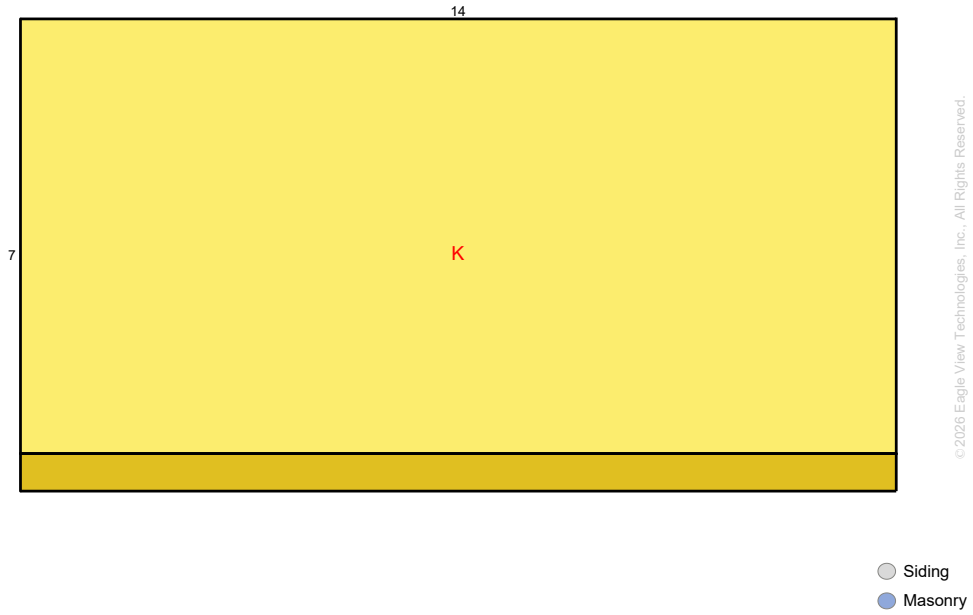

© 2026 Eagle View Technologies, Inc., All Rights Reserved.

Top of Siding Walls = 13.5 ft
Bottom of Siding Walls = 13.5 ft

Wall	Siding Wall Area (ft^2)	Masonry Wall Area (ft^2)	Window & Door Area (ft^2)	Window & Door Perimeter (ft)	Window & Door Count
K	91.0	7.9	0	0	0
Total	**91**	**7.9**	**0**	**0**	**0**

Note: On-site verification of yellow shaded areas is needed. Details are on the Wall Measurement Summary Page. This diagram shows segment lengths rounded to the nearest whole number. The window & door and wall area in square feet (rounded to the nearest tenth) is based on the actual (non-rounded) value of each segment length.

© 2008-2026 Eagle View Technologies, Inc. and Pictometry International Corp. – All Rights Reserved – Covered by one or more of U.S. Patent Nos. 8,078,436; 8,145,578; 8,170,840; 8,209,152; 8,515,125; 8,825,454; 9,135,737; 8,670,961; 9,514,568; 8,818,770; 8,542,880; 9,244,589; 9,329,749; 9,599,466. Other Patents Pending.

REPORT SUMMARY

Structure #1

Areas per Pitch

Roof Pitches	1/12	2/12	6/12
Area (sq ft)	102.5	245.5	1213
% of Roof	6.6%	15.7%	77.7%

The table above lists each pitch on this roof and the total area and percent (both rounded) of the roof with that pitch.

Structure Complexity

Simple	Normal	Complex

Waste Calculation

NOTE: This waste calculation table is for asphalt shingle roofing applications. All values in table below only include roof areas of 3/12 pitch or greater. For total measurements of all pitches, please refer to the **Lengths, Areas, and Pitches** section below.

Waste %	**0%**	5%	8%	**10%**	12%	15%	20%	25%	30%
Area (Sq ft)	**1213**	1274	1311	**1335**	1359	1395	1456	1517	1577
Squares *	**12.33**	13.00	13.33	**13.66**	13.66	14.00	14.66	15.33	16.00
	Measured			**Suggested**					

* Squares are rounded up to the 1/3 of a square.

Additional materials needed for ridge, hip, and starter lengths are not included in the above table. The provided suggested waste factor is intended to serve as a guide—actual waste percentages may differ based upon several variables that EagleView does not control. These waste factor variables include, but are not limited to, individual installation techniques, crew experiences, asphalt shingle material subtleties, and potential salvage from the site. Individual results may vary from the suggested waste factor that EagleView has provided. The suggested waste is not to replace or substitute for experience or judgment as to any given replacement or repair work.

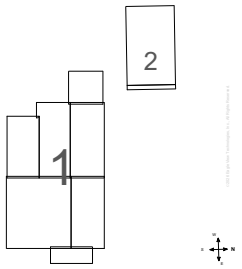

Total Roof Facets = 7
Total Penetrations =0

Lengths, Areas and Pitches
Ridges = 44 ft (2 Ridges)
Hips = 0 ft (0 Hips).
Valleys = 0 ft (0 Valleys)
Rakes† = 128 ft (11 Rakes)
Eaves/Starter‡ = 112 ft (7 Eaves)
Drip Edge (Eaves + Rakes) = 240 ft (18 Lengths)
Parapet Walls = 0 (0 Lengths).
Flashing = 23 ft (2 Lengths)
Step flashing = 33 ft (5 Lengths)
Predominant Pitch = 6/12
Total Area (All Pitches) = 1561 sq ft

Property Location
Longitude = -81.2082555
Latitude = 41.7452798

Notes
This was ordered as a residential property. There were no changes to the structure in the past four years.

† Rakes are defined as roof edges that are sloped (not level).
‡ Eaves are defined as roof edges that are not sloped and level.

© 2008-2026 Eagle View Technologies, Inc. and Pictometry International Corp. – All Rights Reserved – Covered by one or more of U.S. Patent Nos. 8,078,436; 8,145,578; 8,170,840; 8,209,152; 8,515,125; 8,825,454; 9,135,737; 8,670,961; 9,514,568; 8,818,770; 8,542,880; 9,244,589; 9,329,749; 9,599,466. Other Patents Pending.

REPORT SUMMARY

Structure #2

Areas per Pitch		
Roof Pitches	1/12	4/12
Area (sq ft)	345.7	20
% of Roof	94.5%	5.5%

The table above lists each pitch on this roof and the total area and percent (both rounded) of the roof with that pitch.

Structure Complexity		
Simple	Normal	Complex

Waste Calculation

NOTE: This waste calculation table is for asphalt shingle roofing applications. All values in table below only include roof areas of 3/12 pitch or greater.
For total measurements of all pitches, please refer to the **Lengths, Areas, and Pitches** section below.

Waste %	**0%**	204%	209%	214%	219%	224%	229%	232%	**234%**
Area (Sq ft)	**20**	61	62	63	64	65	66	67	**67**
Squares *	**0.33**	0.66	0.66	0.66	0.66	0.66	0.66	1.00	**1.00**
	Measured								**Suggested**

* Squares are rounded up to the 1/3 of a square.

Additional materials needed for ridge, hip, and starter lengths are not included in the above table. The provided suggested waste factor is intended to serve as a guide—actual waste percentages may differ based upon several variables that EagleView does not control. These waste factor variables include, but are not limited to, individual installation techniques, crew experiences, asphalt shingle material subtleties, and potential salvage from the site. Individual results may vary from the suggested waste factor that EagleView has provided. The suggested waste is not to replace or substitute for experience or judgment as to any given replacement or repair work.

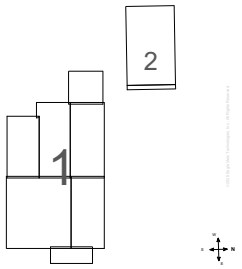

Total Roof Facets = 2
Total Penetrations =0

Lengths, Areas and Pitches
Ridges = 15 ft (1 Ridges)
Hips = 0 ft (0 Hips).
Valleys = 0 ft (0 Valleys)
Rakes† = 50 ft (4 Rakes)
Eaves/Starter‡ = 29 ft (2 Eaves)
Drip Edge (Eaves + Rakes) = 79 ft (6 Lengths)
Parapet Walls = 0 (0 Lengths).
Flashing = 0 ft (0 Lengths)
Step flashing = 0 ft (0 Lengths)
Predominant Pitch = 1/12
Total Area (All Pitches) = 366 sq ft

Property Location
Longitude = -81.2082555
Latitude = 41.7452798

Notes
This was ordered as a residential property. There were no changes to the structure in the past four years.

† Rakes are defined as roof edges that are sloped (not level).
‡ Eaves are defined as roof edges that are not sloped and level.

© 2008-2026 Eagle View Technologies, Inc. and Pictometry International Corp. – All Rights Reserved – Covered by one or more of U.S. Patent Nos. 8,078,436; 8,145,578; 8,170,840; 8,209,152; 8,515,125; 8,825,454; 9,135,737; 8,670,961; 9,514,568; 8,818,770; 8,542,880; 9,244,589; 9,329,749; 9,599,466. Other Patents Pending.

REPORT SUMMARY

All Structures

Areas per Pitch				
Roof Pitches	1/12	2/12	4/12	6/12
Area (sq ft)	448.1	245.5	20.0	1213.0
% of Roof	23.3%	12.7%	1%	62.9%

The table above lists each pitch on this roof and the total area and percent (both rounded) of the roof with that pitch.

All Structures Totals

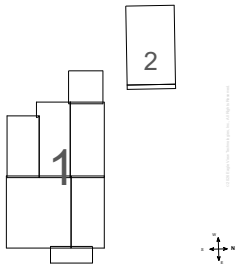

Total Roof Facets = 9

Lengths, Areas and Pitches
Ridges = 59 ft (3 Ridges)
Hips = 0 ft (0 Hips).
Valleys = 0 ft (0 Valleys)
Rakes† = 179 ft (15 Rakes)
Eaves/Starter‡ = 142 ft (9 Eaves)
Drip Edge (Eaves + Rakes) = 321 ft (24 Lengths)
Parapet Walls = 0 (0 Lengths).
Flashing = 23 ft (2 Lengths)
Step flashing = 33 ft (5 Lengths)
Predominant Pitch = 6/12
Total Area (All Pitches) = 1,927 sq ft

Property Location
Longitude = -81.2082555
Latitude = 41.7452798

Notes
This was ordered as a residential property. There were no changes to the structure in the past four years.

Measurements by Structure									
Structure	**Area (sq ft)**	**Ridges (ft)**	**Hips (ft)**	**Valleys (ft)**	**Rakes (ft)**	**Eaves (ft)**	**Flashing (ft)**	**Step Flashing (ft)**	**Parapets (ft)**
1	1561	44	0	0	128	112	23	33	0
2	366	15	0	0	50	29	0	0	0

All values in this table are rounded up to the nearest Foot for each separate structure. Measurement totals displayed elsewhere in this report are added together before rounding which may cause totals to differ.

Online Maps

Online map of property
http://maps.google.com/maps?f=g&source=s_q&hl=en&geocode=&q=681+BOWHALL+RD,,PAINESVILLE,OH,44077
Directions from Your Insurance Claims Network, LLC to this property
http://maps.google.com/maps?f=d&source=s_d&saddr=675+Alpha+Dr,Highland+Heights,OH,44143&daddr=681+BOWHALL+RD,,PAINESVILLE,OH,44077

† Rakes are defined as roof edges that are sloped (not level).
‡ Eaves are defined as roof edges that are not sloped and level.

© 2008-2026 Eagle View Technologies, Inc. and Pictometry International Corp. – All Rights Reserved – Covered by one or more of U.S. Patent Nos. 8,078,436; 8,145,578; 8,170,840; 8,209,152; 8,515,125; 8,825,454; 9,135,737; 8,670,961; 9,514,568; 8,818,770; 8,542,880; 9,244,589; 9,329,749; 9,599,466. Other Patents Pending.

681 BOWHALL RD,, PAINESVILLE, OH 44077 Report: 69533306

WALL MEASUREMENT SUMMARY

Structure #1

Wall Area Waste Calculations

Siding Material

Waste %	0%	10%	11%	12%	13%	14%	15%	20%
Area (ft^2)	1,425	1,568	1,582	1,596	1,610	1,625	1,639	1,710
Squares	14.3	15.7	15.8	16	16.1	16.2	16.4	17.1

Masonry Material

Waste %	0%	10%	11%	12%	13%	14%	15%	20%
Area (ft^2)	171	189	190	192	194	195	197	206
Squares	1.7	1.9	1.9	1.9	1.9	2	2	2.1

The tables above show the total wall area excluding windows and doors, based upon different waste percentages. The waste factor is subject to the complexity of the structure, image quality, siding techniques and your experience. Please consider this when calculating appropriate waste percentages. Note that only the wall area is included in these waste calculations. Accessories may require additional material.

Total Lengths & Areas

Wall Area excluding Windows & Doors

Total = 1596.5 ft^2
Siding = 1425.1 ft^2
Masonry = 171.4 ft^2

General Totals

Wall Facets = 15
Windows & Doors = 21
Window and Door Area = 257.5 ft^2
Window & Door Perimeter = 299.0 ft
Fascia (Eaves + Rakes) = 240 ft
Top of Siding Walls = 211.2 ft
Bottom of Siding Walls = 204.3 ft

Corner Totals

	Siding to Siding	Masonry to Masonry	Siding to Masonry	**Total**
Inside Corners	27.1 ft	2.4 ft	8.8 ft	**38.3 ft**
Outside Corners	70.0 ft	38.1 ft	0.0 ft	**108.1 ft**
Inside Corners > 90	0.0 ft	0.0 ft	0.0 ft	**0.0 ft**
Outside Corners > 90	0.0 ft	0.0 ft	0.0 ft	**0.0 ft**

Notes

There were no changes to the structure in the past four years.

Report Comments

Due to obstructions in available images of this property, please verify measurements on portion of structure highlighted in yellow.

© 2008-2026 Eagle View Technologies, Inc. and Pictometry International Corp. – All Rights Reserved – Covered by one or more of U.S. Patent Nos. 8,078,436; 8,145,578; 8,170,840; 8,209,152; 8,515,125; 8,818,770; 8,542,880; 9,244,589; 9,329,749; 9,599,466. Other Patents Pending.

681 BOWHALL RD,, PAINESVILLE, OH 44077 Report: 69533306

WALL MEASUREMENT SUMMARY

Structure #2

Wall Area Waste Calculations

Siding Material

Waste %	0%	10%	11%	12%	13%	14%	15%	20%
Area (ft^2)	457	502	507	511	516	521	525	548
Squares	4.6	5	5.1	5.1	5.2	5.2	5.3	5.5

Masonry Material

Waste %	0%	10%	11%	12%	13%	14%	15%	20%
Area (ft^2)	37	40	41	41	41	42	42	44
Squares	0.4	0.4	0.4	0.4	0.4	0.4	0.4	0.4

The tables above show the total wall area excluding windows and doors, based upon different waste percentages. The waste factor is subject to the complexity of the structure, image quality, siding techniques and your experience. Please consider this when calculating appropriate waste percentages. Note that only the wall area is included in these waste calculations. Accessories may require additional material.

Total Lengths & Areas

Wall Area excluding Windows & Doors

Total = 493.3 ft^2
Siding = 456.6 ft^2
Masonry = 36.7 ft^2

General Totals

Wall Facets = 4
Windows & Doors = 4
Window and Door Area = 77.1 ft^2
Window & Door Perimeter = 63.0 ft
Fascia (Eaves + Rakes) = 79 ft
Top of Siding Walls = 71.2 ft
Bottom of Siding Walls = 71.0 ft

Corner Totals

	Siding to Siding	Masonry to Masonry	Siding to Masonry	**Total**
Inside Corners	0.0 ft	0.0 ft	0.0 ft	**0.0 ft**
Outside Corners	30.2 ft	2.4 ft	0.0 ft	**32.6 ft**
Inside Corners > 90	0.0 ft	0.0 ft	0.0 ft	**0.0 ft**
Outside Corners > 90	0.0 ft	0.0 ft	0.0 ft	**0.0 ft**

Notes

There were no changes to the structure in the past four years.

Report Comments

Due to obstructions in available images of this property, please verify measurements on portion of structure highlighted in yellow.

© 2008-2026 Eagle View Technologies, Inc. and Pictometry International Corp. – All Rights Reserved – Covered by one or more of U.S. Patent Nos. 8,078,436; 8,145,578; 8,170,840; 8,209,152; 8,515,125; 8,818,770; 8,542,880; 9,244,589; 9,329,749; 9,599,466. Other Patents Pending.

WALL MEASUREMENT SUMMARY

All Structures

Wall Area Waste Calculations

Siding Material

Waste %	0%	10%	11%	12%	13%	14%	15%	20%
Area (ft^2)	1,882	2,070	2,089	2,108	2,126	2,145	2,164	2,258
Squares	18.8	20.7	20.9	21.1	21.3	21.5	21.6	22.6

Masonry Material

Waste %	0%	10%	11%	12%	13%	14%	15%	20%
Area (ft^2)	208	229	231	233	235	237	239	250
Squares	2.1	2.3	2.3	2.3	2.4	2.4	2.4	2.5

The tables above show the total wall area excluding windows and doors, based upon different waste percentages. The waste factor is subject to the complexity of the structure, image quality, siding techniques and your experience. Please consider this when calculating appropriate waste percentages. Note that only the wall area is included in these waste calculations. Accessories may require additional material.

Total Lengths & Areas

Wall Area excluding Windows & Doors

Total = 2089.8 ft^2
Siding = 1881.7 ft^2
Masonry = 208.1 ft^2

General Totals

Wall Facets = 19
Windows & Doors = 25
Window and Door Area = 334.6 ft^2
Window & Door Perimeter = 362.0 ft
Fascia (Eaves + Rakes) = 321 ft
Top of Siding Walls = 282.4 ft
Bottom of Siding Walls = 275.3 ft

Corner Totals

	Siding to Siding	Masonry to Masonry	Siding to Masonry	**Total**
Inside Corners	27.1 ft	2.4 ft	8.8 ft	**38.3 ft**
Outside Corners	100.2 ft	40.5 ft	0.0 ft	**140.7 ft**
Inside Corners > 90	0.0 ft	0.0 ft	0.0 ft	**0.0 ft**
Outside Corners > 90	0.0 ft	0.0 ft	0.0 ft	**0.0 ft**

Property Location

Longitude = -81.2082555
Latitude = 41.7452798

Notes

There were no changes to the structure in the past four years.

Report Comments

Due to obstructions in available images of this property, please verify measurements on portion of structure highlighted in yellow.

Wall measurements should be field verified to confirm accuracy. Wall areas assume that flat soffits exist at the eaves. If sloped soffits are present, wall height and wall area measurements will likely be off.

© 2008-2026 Eagle View Technologies, Inc. and Pictometry International Corp. – All Rights Reserved – Covered by one or more of U.S. Patent Nos. 8,078,436; 8,145,578; 8,170,840; 8,209,152; 8,515,125; 8,825,454; 9,135,737; 8,670,961; 9,514,568; 8,818,770; 8,542,880; 9,244,589; 9,329,749; 9,599,466. Other Patents Pending.

East Elevation Details continued…

© 2008-2026 Eagle View Technologies, Inc. and Pictometry International Corp. – All Rights Reserved – Covered by one or more of U.S. Patent Nos. 8,078,436; 8,145,578; 8,170,840; 8,209,152; 8,515,125; 8,825,454; 9,135,737; 8,670,961; 9,514,568; 8,818,770; 8,542,880; 9,244,589; 9,329,749; 9,599,466. Other Patents Pending.

681 BOWHALL RD,, PAINESVILLE, OH 44077 Report: 69533306

IMPORTANT LEGAL NOTICE AND DISCLAIMER

Notice and Disclaimer

No Warranty: The Copyrighted Materials are provided to you "as is," and you agree to use it at your own risk.

EagleView Technologies makes no guarantees, representations or warranties of any kind, express or implied, arising by law or otherwise, including but not limited to, content, quality, accuracy, completeness, effectiveness, reliability, fitness for a particular purpose, usefulness, use or results to be obtained from the Copyrighted Materials.

Contractors agree to always conduct a preliminary site survey to verify Roof Report ordered. In the event of an error in a Report, your sole remedy will be a refund of the fees paid by you to obtain this Report.

© 2008-2026 Eagle View Technologies, Inc. and Pictometry International Corp. – All Rights Reserved – Covered by one or more of U.S. Patent Nos. 8,078,436; 8,145,578; 8,170,840; 8,209,152; 8,515,125; 8,825,454; 9,135,737; 8,670,961; 9,514,568; 8,818,770; 8,542,880; 9,244,589; 9,329,749; 9,599,466. Other Patents Pending.