## 4408 Turney, Cleveland, OH 44105

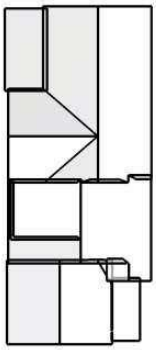

In this 3D model, facets appear as semi-transparent to reveal overhangs.

| Report Details | Roof Details | Report Contents |
|---|---|---|
| Report:40361918 | Total Roof Area =2,439 sq ft | Images .....1 |
| | Total Roof Facets =15 | Length Diagram.....4 |
| | Predominant Pitch =10/12 | Pitch Diagram.....5 |
| | Number of Stories >1 | Area Diagram .....6 |
| | Total Ridges/Hips =101 ft | Notes Diagram .....7 |
| | Total Valleys =36 ft | Report Summary.....10 |
| | Total Rakes =236 ft | |
| | Total Eaves =180 ft | |

Contact: virgil stone
Company: Your Insurance Claims Network
Address: 5420 Mardale Ave
Bedford Hts OH 44146
Phone: 216-331-8323

eagleview

SATISFACTION EXTENDED COVERAGE GUARANTEED

**Disclaimer:** This report was produced using EagleView Extended Coverage Technology. Due to a variety of reasons including but not limited to tree coverage, poor images, low photo resolution or other blockages, this report DOES NOT offer an accuracy guarantee. EagleView recommends that anyone using this report field verify the measurements.
**Measurements provided by EagleView**

© 2008-2021 Eagle View Technologies, Inc. and Pictometry International Corp. – All Rights Reserved – Protected by European Patent Application No. 10162199.3 – Covered by one or more of U.S. Patent Nos. 8,078,436; 8,145,578; 8,170,840; 8,209,152; 8,515,125; 8,825,454; 9,135,737; 8,670,961; 9,514,568; 8,818,770; 8,542,880; 9,244,589; 9,329,749; 9,599,466. Other Patents Pending.

## Images

The following aerial images show different angles of this structure for your reference.

**Disclaimer:** This report was produced using EagleView Extended Coverage Technology. Due to a variety of reasons including, but not limited to: tree coverage, poor images, low photo resolution or other blockages; this report DOES NOT offer an accuracy guarantee. EagleView recommends that anyone using this report field verify the yellow-shaded sections.

© 2008-2021 Eagle View Technologies, Inc. and Pictometry International Corp. – All Rights Reserved – Protected by European Patent Application No. 10162199.3 – Covered by one or more of U.S. Patent Nos. 8,078,436; 8,145,578; 8,170,840; 8,209,152; 8,515,125; 8,825,454; 9,135,737; 8,670,961; 9,514,568; 8,818,770; 8,542,880; 9,244,589; 9,329,749; 9,599,466. Other Patents Pending.

**Disclaimer:** This report was produced using EagleView Extended Coverage Technology. Due to a variety of reasons including, but not limited to: tree coverage, poor images, low photo resolution or other blockages; this report DOES NOT offer an accuracy guarantee. EagleView recommends that anyone using this report field verify the yellow-shaded sections.

North Side

South Side





© 2008-2021 Eagle View Technologies, Inc. and Pictometry International Corp. – All Rights Reserved – Protected by European Patent Application No. 10162199.3 – Covered by one or more of U.S. Patent Nos. 8,078,436; 8,145,578; 8,170,840; 8,209,152; 8,515,125; 8,825,454; 9,135,737; 8,670,961; 9,514,568; 8,818,770; 8,542,880; 9,244,589; 9,329,749; 9,599,466. Other Patents Pending.

**Disclaimer:** This report was produced using EagleView Extended Coverage Technology. Due to a variety of reasons including, but not limited to: tree coverage, poor images, low photo resolution or other blockages; this report DOES NOT offer an accuracy guarantee. EagleView recommends that anyone using this report field verify the yellow-shaded sections.

East Side




West Side

© 2008-2021 Eagle View Technologies, Inc. and Pictometry International Corp. – All Rights Reserved – Protected by European Patent Application No. 10162199.3 – Covered by one or more of U.S. Patent Nos. 8,078,436; 8,145,578; 8,170,840; 8,209,152; 8,515,125; 8,825,454; 9,135,737; 8,670,961; 9,514,568; 8,818,770; 8,542,880; 9,244,589; 9,329,749; 9,599,466. Other Patents Pending.

## Length Diagram

Shaded areas should be verified

Total Line Lengths:

**Ridges = 101 ft**
Hips = 0 ft
Valleys = 36 ft
Rakes = 236 ft
Eaves = 180 ft
Flashing = 45 ft
Step flashing = 74 ft
**Parapets = 0 ft**

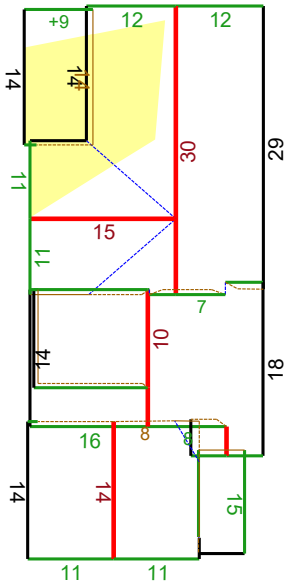


© 2021 Eagle View Technologies, Inc., All Rights Reserved.

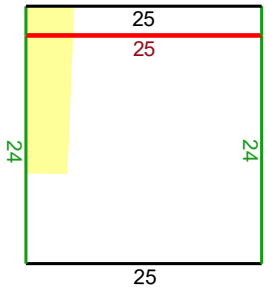


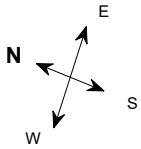


Note: This diagram contains segment lengths (rounded to the nearest whole number) over 5.0 Feet. In some cases, segment labels have been removed for readability. Plus signs preface some numbers to avoid confusion when rotated (e.g. +6 and +9).

**Disclaimer:** This report was produced using EagleView Extended Coverage Technology. Due to a variety of reasons including, but not limited to: tree coverage, poor images, low photo resolution or other blockages; this report DOES NOT offer an accuracy guarantee. EagleView recommends that anyone using this report field verify the yellow-shaded sections.



© 2008-2021 Eagle View Technologies, Inc. and Pictometry International Corp. – All Rights Reserved – Protected by European Patent Application No. 10162199.3 – Covered by one or more of U.S. Patent Nos. 8,078,436; 8,145,578; 8,170,840; 8,209,152; 8,515,125; 8,825,454; 9,135,737; 8,670,961; 9,514,568; 8,818,770; 8,542,880; 9,244,589; 9,329,749; 9,599,466. Other Patents Pending.

## Pitch Diagram

Pitch values are shown in inches per foot, and arrows indicate slope direction. The predominant pitch on this roof is 10/12.

**Disclaimer:** With Extended Coverage, only the predominant pitch may be noted due to resolution of photo. Refer to pitch table for more information.

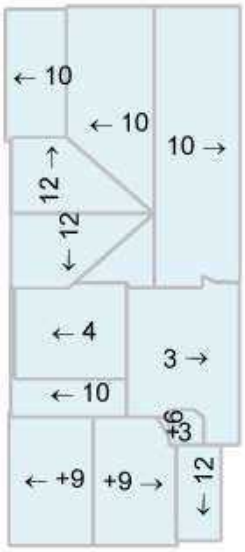


© 2021 Eagle View Technologies, Inc., All Rights Reserved.

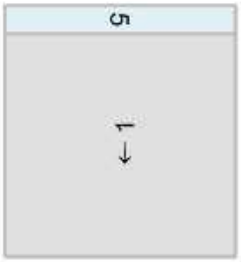


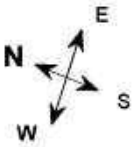


Note: This diagram contains labeled pitches for facet areas larger than 20.0 square feet. In some cases, pitch labels have been removed for readability. Plus signs preface some numbers to avoid confusion when rotated (e.g. +6 and +9). Blue shading indicates a pitch of 3/12 and greater. Gray shading indicates flat, 1/12 or 2/12 pitches.

**Disclaimer:** This report was produced using EagleView Extended Coverage Technology. Due to a variety of reasons including, but not limited to: tree coverage, poor images, low photo resolution or other blockages; this report DOES NOT offer an accuracy guarantee. EagleView recommends that anyone using this report field verify the yellow-shaded sections.



© 2008-2021 Eagle View Technologies, Inc. and Pictometry International Corp. – All Rights Reserved – Protected by European Patent Application No. 10162199.3 – Covered by one or more of U.S. Patent Nos. 8,078,436; 8,145,578; 8,170,840; 8,209,152; 8,515,125; 8,825,454; 9,135,737; 8,670,961; 9,514,568; 8,818,770; 8,542,880; 9,244,589; 9,329,749; 9,599,466. Other Patents Pending.

## Area Diagram

Total Area = 2,439 sq ft, with 15 facets.

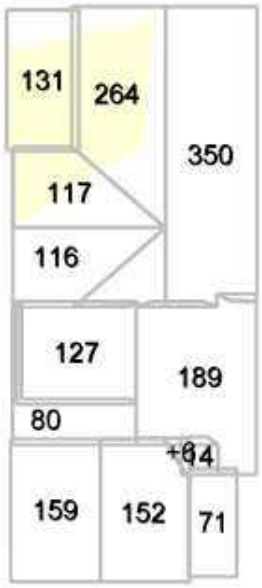


© 2021 Eagle View Technologies, Inc., All Rights Reserved.




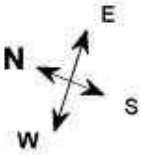


Note: This diagram shows the square feet of each roof facet (rounded to the nearest Foot). The total area in square feet, at the top of this page, is based on the non-rounded values of each roof facet (rounded to the nearest square foot after being totaled).

**Disclaimer:** This report was produced using EagleView Extended Coverage Technology. Due to a variety of reasons including, but not limited to: tree coverage, poor images, low photo resolution or other blockages; this report DOES NOT offer an accuracy guarantee. EagleView recommends that anyone using this report field verify the yellow-shaded sections.



© 2008-2021 Eagle View Technologies, Inc. and Pictometry International Corp. – All Rights Reserved – Protected by European Patent Application No. 10162199.3 – Covered by one or more of U.S. Patent Nos. 8,078,436; 8,145,578; 8,170,840; 8,209,152; 8,515,125; 8,825,454; 9,135,737; 8,670,961; 9,514,568; 8,818,770; 8,542,880; 9,244,589; 9,329,749; 9,599,466. Other Patents Pending.

## Notes Diagram

Roof facets are labeled from smallest to largest (A to Z) for easy reference.

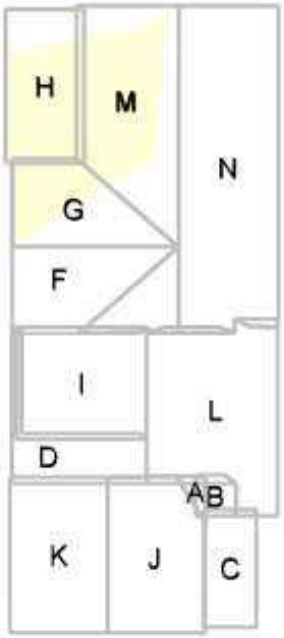


© 2021 Eagle View Technologies, Inc., All Rights Reserved.

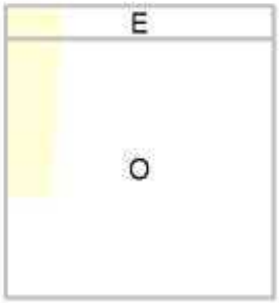


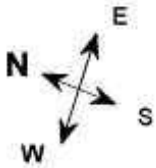


Note: **On-site verification of yellow shaded areas is needed. Details are on the Summary Page.**



© 2008-2021 Eagle View Technologies, Inc. and Pictometry International Corp. – All Rights Reserved – Protected by European Patent Application No. 10162199.3 – Covered by one or more of U.S. Patent Nos. 8,078,436; 8,145,578; 8,170,840; 8,209,152; 8,515,125; 8,825,454; 9,135,737; 8,670,961; 9,514,568; 8,818,770; 8,542,880; 9,244,589; 9,329,749; 9,599,466. Other Patents Pending.

## Report Summary

Below is a measurement summary using the values presented in this report.

## Structure #1

| Areas per Pitch | | | | | | |
|---|---|---|---|---|---|---|
| **Roof Pitches** | 3/12 | 10/12 | 12/12 | 4/12 | 9/12 | 6/12 |
| **Area (sq ft)** | 202.8 | 825 | 304.4 | 127.4 | 311.1 | 5.9 |
| **% of Roof** | 11.4% | 46.4% | 17.1% | 7.2% | 17.5% | 0.3% |

**Disclaimer:** The table above lists each pitch on this roof and the total area and percent (both rounded) of the roof with that pitch. With Extended Coverage, only the predominant pitch may be noted due to resolution of photo. With Extended Coverage, EagleView recommends field verifying yellow-shaded sections and pitch utilizing the Facet Area Based Upon Pitch Table below.

| Structure Complexity | | |
|---|---|---|
| Simple | Normal | Complex |

**Waste Calculation**

NOTE: This waste calculation table is for asphalt shingle roofing applications. All values in table below only include roof areas of 3/12 pitch or greater. For total measurements of all pitches, please refer to the **Lengths, Areas, and Pitches** section below.

| | | | | | | | | | |
|---|---|---|---|---|---|---|---|---|---|
| Waste % | **0%** | 3% | 8% | 11% | **13%** | 15% | 18% | 23% | 28% |
| Area (Sq ft) | **1777** | 1831 | 1920 | 1973 | **2009** | 2044 | 2097 | 2186 | 2275 |
| Squares * | **18.00** | 18.33 | 19.33 | 20.00 | **20.33** | 20.66 | 21.00 | 22.00 | 23.00 |
| | **Measured** | | | | **Suggested** | | | | |

* Squares are rounded up to the 1/3 of a square.

Additional materials needed for ridge, hip, and starter lengths are not included in the above table. The provided suggested waste factor is intended to serve as a guide—actual waste percentages may differ based upon several variables that EagleView does not control. These waste factor variables include, but are not limited to, individual installation techniques, crew experiences, asphalt shingle material subtleties, and potential salvage from the site. Individual results may vary from the suggested waste factor that EagleView has provided. The suggested waste is not to replace or substitute for experience or judgment as to any given replacement or repair work.

**Report Comments**

**Due to obstructions in available images of this property, please verify measurements on portion of structure highlighted in yellow.**

Total Roof Facets = 13

**Lengths, Areas and Pitches**

Ridges = 77 ft (6 Ridges)
Hips = 0 ft (0 Hips).
Valleys = 36 ft (6 Valleys)
Rakes† = 182 ft (22 Rakes)
Eaves/Starter‡ = 131 ft (11 Eaves)
Drip Edge (Eaves + Rakes) = 313 ft (33 Lengths)
Parapet Walls = 0 (0 Lengths).
Flashing = 45 ft (6 Lengths)
Step flashing = 74 ft (18 Lengths)
Predominant Pitch = 10/12
**Total Area (All Pitches) = 1777 sq ft**

**Property Location**

Longitude = -81.6224599
Latitude = 41.4394553

**Notes**

This was ordered as a residential property. There were no changes to the structure in the past four years.

† Rakes are defined as roof edges that are sloped (not level).
‡ Eaves are defined as roof edges that are not sloped and level.



© 2008-2021 Eagle View Technologies, Inc. and Pictometry International Corp. – All Rights Reserved – Protected by European Patent Application No. 10162199.3 – Covered by one or more of U.S. Patent Nos. 8,078,436; 8,145,578; 8,170,840; 8,209,152; 8,515,125; 8,825,454; 9,135,737; 8,670,961; 9,514,568; 8,818,770; 8,542,880; 9,244,589; 9,329,749; 9,599,466. Other Patents Pending.

## Report Summary

Below is a measurement summary using the values presented in this report.

## Structure #2

| Areas per Pitch | | |
|---|---|---|
| **Roof Pitches** | 1/12 | 5/12 |
| **Area (sq ft)** | 581.5 | 80.6 |
| **% of Roof** | 87.8% | 12.2% |

**Disclaimer:** The table above lists each pitch on this roof and the total area and percent (both rounded) of the roof with that pitch. With Extended Coverage, only the predominant pitch may be noted due to resolution of photo. With Extended Coverage, EagleView recommends field verifying yellow-shaded sections and pitch utilizing the Facet Area Based Upon Pitch Table below.

| Structure Complexity | | |
|---|---|---|
| Simple | Normal | Complex |

**Waste Calculation**

NOTE: This waste calculation table is for asphalt shingle roofing applications. All values in table below only include roof areas of 3/12 pitch or greater. For total measurements of all pitches, please refer to the **Lengths, Areas, and Pitches** section below.

| Waste % | **0%** | 36% | 41% | 46% | 51% | 56% | 61% | 64% | **66%** |
|---|---|---|---|---|---|---|---|---|---|
| Area (Sq ft) | **81** | 111 | 115 | 119 | 123 | 127 | 131 | 133 | **135** |
| Squares * | **1.00** | 1.33 | 1.33 | 1.33 | 1.33 | 1.33 | 1.33 | 1.33 | **1.66** |
| | **Measured** | | | | | | | | **Suggested** |

* Squares are rounded up to the 1/3 of a square.

Additional materials needed for ridge, hip, and starter lengths are not included in the above table. The provided suggested waste factor is intended to serve as a guide—actual waste percentages may differ based upon several variables that EagleView does not control. These waste factor variables include, but are not limited to, individual installation techniques, crew experiences, asphalt shingle material subtleties, and potential salvage from the site. Individual results may vary from the suggested waste factor that EagleView has provided. The suggested waste is not to replace or substitute for experience or judgment as to any given replacement or repair work.

**Report Comments**

**Due to obstructions in available images of this property, please verify measurements on portion of structure highlighted in yellow.**

Total Roof Facets = 2

**Lengths, Areas and Pitches**

Ridges = 25 ft (1 Ridges)
Hips = 0 ft (0 Hips).
Valleys = 0 ft (0 Valleys)
Rakes† = 55 ft (4 Rakes)
Eaves/Starter‡ = 50 ft (2 Eaves)
Drip Edge (Eaves + Rakes) = 105 ft (6 Lengths)
Parapet Walls = 0 (0 Lengths).
Flashing = 0 ft (0 Lengths)
Step flashing = 0 ft (0 Lengths)
Predominant Pitch = 1/12
**Total Area (All Pitches) = 663 sq ft**

**Property Location**

Longitude = -81.6224599
Latitude = 41.4394553

**Notes**

This was ordered as a residential property. There were no changes to the structure in the past four years.

† Rakes are defined as roof edges that are sloped (not level).
‡ Eaves are defined as roof edges that are not sloped and level.



© 2008-2021 Eagle View Technologies, Inc. and Pictometry International Corp. – All Rights Reserved – Protected by European Patent Application No. 10162199.3 – Covered by one or more of U.S. Patent Nos. 8,078,436; 8,145,578; 8,170,840; 8,209,152; 8,515,125; 8,825,454; 9,135,737; 8,670,961; 9,514,568; 8,818,770; 8,542,880; 9,244,589; 9,329,749; 9,599,466. Other Patents Pending.

# Report Summary

Below is a measurement summary using the values presented in this report.

## All Structures

**Report Comments**

**Due to obstructions in available images of this property, please verify measurements on portion of structure highlighted in yellow.**

### All Structures Totals

Total Roof Facets = 15

**Lengths, Areas and Pitches**

Ridges = 101 ft (7 Ridges)
Hips = 0 ft (0 Hips).
Valleys = 36 ft (6 Valleys)
Rakes† = 236 ft (26 Rakes)
Eaves/Starter‡ = 180 ft (13 Eaves)
Drip Edge (Eaves + Rakes) = 416 ft (39 Lengths)
Parapet Walls = 0 (0 Lengths).
Flashing = 45 ft (6 Lengths)
Step flashing = 74 ft (18 Lengths)
Predominant Pitch = 10/12
**Total Area (All Pitches) = 2,439 sq ft**

**Property Location**

Longitude = -81.6224599
Latitude = 41.4394553

**Notes**

This was ordered as a residential property. There were no changes to the structure in the past four years.

**Measurements by Structure**

| Structure | Area (sq ft) | Ridges (ft) | Hips (ft) | Valleys (ft) | Rakes (ft) | Eaves (ft) | Flashing (ft) | Step Flashing (ft) | Parapets (ft) |
|---|---|---|---|---|---|---|---|---|---|
| 1 | 1777 | 77 | 0 | 36 | 182 | 131 | 45 | 74 | 0 |
| 2 | 662 | 25 | 0 | 0 | 55 | 50 | 0 | 0 | 0 |

All values in this table are rounded up to the nearest Foot for each separate structure. Measurement totals displayed elsewhere in this report are added together before rounding which may cause totals to differ.

## Online Maps

Online map of property
http://maps.google.com/maps?f=g&source=s_q&hl=en&geocode=&q=4408+Turney,Cleveland,OH,44105
Directions from Your Insurance Claims Network to this property
http://maps.google.com/maps?f=d&source=s_d&saddr=5420+Mardale+Ave,Bedford+Hts,OH,44146&daddr=4408+Turney,Cleveland,OH,44105

**Disclaimer:** This report was produced using EagleView Extended Coverage Technology. Due to a variety of reasons including, but not limited to: tree coverage, poor images, low photo resolution or other blockages; this report DOES NOT offer an accuracy guarantee. EagleView recommends that anyone using this report field verify the yellow-shaded sections.

† Rakes are defined as roof edges that are sloped (not level).
‡ Eaves are defined as roof edges that are not sloped and level.


© 2008-2021 Eagle View Technologies, Inc. and Pictometry International Corp. – All Rights Reserved – Protected by European Patent Application No. 10162199.3 – Covered by one or more of U.S. Patent Nos. 8,078,436; 8,145,578; 8,170,840; 8,209,152; 8,515,125; 8,825,454; 9,135,737; 8,670,961; 9,514,568; 8,818,770; 8,542,880; 9,244,589; 9,329,749; 9,599,466. Other Patents Pending.

## Facet Area (sq ft) Based Upon Pitch

The area for each facet appears in the column under the appropriate pitch.

| Facet | Pitch(inches per foot) | | | | | | | | | | |
|---|---|---|---|---|---|---|---|---|---|---|---|
| | 0 | 2 | 4 | 6 | 8 | 10 | 12 | 14 | 16 | 18 | 20 |
| A | 5.4 | 5.5 | 5.7 | 6.0 | 6.5 | 7.0 | 7.6 | 8.3 | 9.0 | 9.7 | 10.5 |
| B | 13.5 | 13.7 | 14.2 | 15.1 | 16.2 | 17.6 | 19.1 | 20.7 | 22.5 | 24.3 | 26.2 |
| C | 51.3 | 52.0 | 54.1 | 57.4 | 61.7 | 66.8 | 72.5 | 78.8 | 85.5 | 92.5 | 99.7 |
| D | 63.4 | 64.3 | 66.8 | 70.9 | 76.2 | 82.5 | 89.7 | 97.4 | 105.7 | 114.3 | 123.2 |
| E | 74.4 | 75.4 | 78.4 | 83.2 | 89.4 | 96.8 | 105.2 | 114.3 | 124.0 | 134.1 | 144.6 |
| F | 83.6 | 84.8 | 88.1 | 93.5 | 100.5 | 108.8 | 118.2 | 128.5 | 139.3 | 150.7 | 162.5 |
| G | 84.8 | 86.0 | 89.4 | 94.8 | 101.9 | 110.4 | 119.9 | 130.3 | 141.3 | 152.9 | 164.8 |
| H | 100.4 | 101.8 | 105.8 | 112.3 | 120.7 | 130.7 | 142.0 | 154.3 | 167.3 | 181.0 | 195.1 |
| I | 120.9 | 122.6 | 127.4 | 135.2 | 145.3 | 157.4 | 171.0 | 185.8 | 201.5 | 218.0 | 235.0 |
| J | 121.9 | 123.6 | 128.5 | 136.3 | 146.5 | 158.7 | 172.4 | 187.3 | 203.2 | 219.8 | 236.9 |
| K | 127.0 | 128.8 | 133.9 | 142.0 | 152.6 | 165.3 | 179.6 | 195.1 | 211.7 | 229.0 | 246.8 |
| L | 183.3 | 185.8 | 193.2 | 204.9 | 220.3 | 238.6 | 259.2 | 281.7 | 305.5 | 330.4 | 356.3 |
| M | 203.1 | 205.9 | 214.1 | 227.1 | 244.1 | 264.4 | 287.2 | 312.1 | 338.5 | 366.1 | 394.8 |
| N | 268.7 | 272.4 | 283.2 | 300.4 | 322.9 | 349.8 | 380.0 | 412.9 | 447.8 | 484.4 | 522.3 |
| O | 579.5 | 587.5 | 610.8 | 647.9 | 696.5 | 754.3 | 819.5 | 890.5 | 965.8 | 1044.7 | 1126.3 |
| Total | 2081 | 2110 | 2194 | 2327 | 2501 | 2709 | 2943 | 3198 | 3469 | 3752 | 4045 |

Each value is rounded to the nearest square foot. The totals are based on the unrounded values.

**Disclaimer:** This report was produced using EagleView Extended Coverage Technology. Due to a variety of reasons including, but not limited to: tree coverage, poor images, low photo resolution or other blockages; this report DOES NOT offer an accuracy guarantee. EagleView recommends that anyone using this report field verify the yellow-shaded sections.



© 2008-2021 Eagle View Technologies, Inc. and Pictometry International Corp. – All Rights Reserved – Protected by European Patent Application No. 10162199.3 – Covered by one or more of U.S. Patent Nos. 8,078,436; 8,145,578; 8,170,840; 8,209,152; 8,515,125; 8,825,454; 9,135,737; 8,670,961; 9,514,568; 8,818,770; 8,542,880; 9,244,589; 9,329,749; 9,599,466. Other Patents Pending.